PORT EVERGLADES
SAND BYPASS PROJECT
TCG NO. 25-0033
FDEP No: 0289308-004-JC

WATER QUALITY MONITORING REPORT

WEEK #5 NOV 21 – NOV 27, 2025

PREPARED FOR:
MR. BEN GROSS, FOTH
2618 HERSCHEL STREET
JACKSONVILLE, FL 32204-4512

714 East McNab Road. Pompano Beach, FL 33060 *tel*. 954. 782.1908 *fax*. 954.782.1108 www.thechappellgroup.com

Environmental Consultants | Marina & Wetland Permitting | Phase I ESAs | Mitigation Design & Monitoring | T & E Species Surveys

DATE	
11/21/2025	**Turbidity samples were not collected on this date due to no dredging activity resulting from a mechanical failure on the evening of Tuesday, 11/18/25.**

DATE	
11/22/2025	**Turbidity samples were not collected on this date due to no dredging activity resulting from a mechanical failure on the evening of Tuesday, 11/18/25.**

DATE	TYPE OF SAMPLE	TIME	POSITION	TOTAL DEPTH (ft)	SAMPLE DEPTH (ft)	TURBIDITY READING (NTUs)	DIFFERENCE FROM BACKGROUND	WEATHER	WIND DIRECTION & SPEED	TIDAL STAGE & DIRECTION	WATER TEMP (°F)
11/23/2025	Reference Point		26.095913°, -80.1032645°								
	Mixing Zone Background #1	12:00 PM	26.0927498°, -80.1092512°	20'	SURFACE: 6'	1.72		Sunny	5 mph, NW	Outgoing, southward	78.7
					MID: 10'	1.76					
					BOTTOM: NA	NA					
	Mixing Zone Compliance #1		26.0954515°, -80.0965413°	24'	SURFACE: 6'	0.62	-1.1				
					MID: 12'	0.93	-0.83				
					BOTTOM: NA	NA	NA				
	Mixing Zone Background #2	4:00 PM	26.0928075°, -80.1092258°	20'	SURFACE: 6'	2.11		Sunny	6 mph, E	Outgoing, southward	78.3
					MID: 10'	2.56					
					BOTTOM: NA	NA					
	Mixing Zone Compliance #2		26.0958828°, -80.0965083°	20'	SURFACE: 6'	0.58	-1.53				
					MID: 10'	0.66	-1.9				
					BOTTOM: NA	NA	NA				

Water samples were collected by vessel outside the influence of any artificial turbidity plume for background sampling and at the edge of the mixing zone for compliance sampling. Sampling locations varied with tidal conditions and were selected based on flow direction relative to the dredge site. A standard water sampler was used to collect the water column sample by lowering the open chamber to the target depth, closing it to capture the sample, and retrieving it carefully to avoid agitation. Samples were immediately transferred into clean, matched turbidity cuvettes handled in accordance with FT-1600 requirements, ensuring no fingerprints, bubbles, or contamination.

All turbidity measurements were performed using a turbidimeter that meets FT-1600 requirements. Each morning before sampling, the meter was calibrated using manufacturer-certified StablCal standards at 20, 100, and 800 NTU, followed by a 10 NTU low-level verification standard. The verification reading was required to fall within the FT-1600 acceptance limit of ±8%, and the percent difference was calculated each morning to confirm compliance. All calibration standards were verified to be within expiration and used in accordance with FT-1600 procedures. After analysis, cuvettes were rinsed with turbidity-free water and stored for future use. GPS coordinates for each sample location were recorded using a satellite-based device to document the precise time, location, and sample type for full traceability.

Turbidity samples were not collected prior to the 12:00 PM sample as crews were not able to mobilize until then.



THE Chappell INC. GROUP
714 East McNab Road
Pompano Beach, Florida 33060
tel. 954.782.1908
fax. 954.782.1108
www.thechappellgroup.com

- *Environmental Consultants*
- *Marina & Wetland Permitting*
- *Mitigation Design & Monitoring*
- *T&E Species Surveys*
- *Tree Surveys/Appraisals*

PORT EVERGLADES SAND BYPASS PROJECT

PREPARED FOR:
FOTH

FIGURE 1 - 11/23/25 SITE AERIAL

Date: 11/23/25	Sheet : 1	of : 1
Proj No.: 25-0033		

THIS DRAWING AND ALL APPURTENANT MATTER CONTAINS INFORMATION PROPRIETARY TO THE CHAPPELL GROUP, INC. AND IS LOANED SUBJECT TO RETURN UPON DEMAND AND MUST NOT BE REPRODUCED, COPIED, LOANED, REVEALED, NOR LISTED FOR ANY PURPOSE OTHER THAN THAT FOR WHICH IT IS SPECIFICALLY FURNISHED WITHOUT EXPRESSED WRITTEN CONSENT OF THE CHAPPELL GROUP, INC. © THE CHAPPELL GROUP, INC. 2025

DATE	TYPE OF SAMPLE	TIME	POSITION	TOTAL DEPTH (ft)	SAMPLE DEPTH (ft)	TURBIDITY READING (NTUs)	DIFFERENCE FROM BACKGROUND	WEATHER	WIND DIRECTION & SPEED	TIDAL STAGE & DIRECTION	WATER TEMP (°F)
11/24/2025	Reference Point		26.0960133°, -80.1031235°								
	Mixing Zone Background #1	8:00 AM	26.1006026°, -80.1024558°	19'	SURFACE: 6'	0.58		Sunny	5 mph, NNE	Incoming, southward	77.87
					MID: 9'	0.8					
					BOTTOM: NA	NA					
	Mixing Zone Compliance #1		26.0931059°, -80.10254°	48'	SURFACE: 6'	0.95	0.37				
					MID: 24'	0.81	0.01				
					BOTTOM: 42'	0.97	NA				
	Mixing Zone Background #2	12:00 PM	26.1006054°, -80.1012445°	14'	SURFACE: 6'	0.62		Partly cloudy	9 mph, NE	Outgoing, southward	78.6
					MID: 7'	0.63					
					BOTTOM: NA	NA					
	Mixing Zone Compliance #2		26.0930646°, -80.1032341°	50'	SURFACE: 6'	0.5	-0.12				
					MID: 25'	0.58	-0.05				
					BOTTOM: 44'	0.71	NA				
	Mixing Zone Background #3	4:00 PM	26.1006192°, -80.1019868°	16'	SURFACE: 6'	0.65		Cloudy	12 mph, NE	Outgoing, southward	78.8
					MID: 8'	0.83					
					BOTTOM: NA	NA					
	Mixing Zone Compliance #3		26.0930517°, -80.1028979°	48'	SURFACE: 6'	2.14	1.49				
					MID: 24'	1.84	1.01				
					BOTTOM: 42'	1.98	NA				

Water samples were collected by vessel outside the influence of any artificial turbidity plume for background sampling and at the edge of the mixing zone for compliance sampling. Sampling locations varied with tidal conditions and were selected based on flow direction relative to the dredge site. A standard water sampler was used to collect the water column sample by lowering the open chamber to the target depth, closing it to capture the sample, and retrieving it carefully to avoid agitation. Samples were immediately transferred into clean, matched turbidity cuvettes handled in accordance with FT-1600 requirements, ensuring no fingerprints, bubbles, or contamination.

All turbidity measurements were performed using a turbidimeter that meets FT-1600 requirements. Each morning before sampling, the meter was calibrated using manufacturer-certified StablCal standards at 20, 100, and 800 NTU, followed by a 10 NTU low-level verification standard. The verification reading was required to fall within the FT-1600 acceptance limit of ±8%, and the percent difference was calculated each morning to confirm compliance. All calibration standards were verified to be within expiration and used in accordance with FT-1600 procedures. After analysis, cuvettes were rinsed with turbidity-free water and stored for future use. GPS coordinates for each sample location were recorded using a satellite-based device to document the precise time, location, and sample type for full traceability.



THE Chappell GROUP INC.
714 East McNab Road
Pompano Beach, Florida 33060
tel. 954.782.1908
fax. 954.782.1108
www.thechappellgroup.com

- *Environmental Consultants*
- *Marina & Wetland Permitting*
- *Mitigation Design & Monitoring*
- *T&E Species Surveys*
- *Tree Surveys/Appraisals*

PORT EVERGLADES SAND BYPASS PROJECT

PREPARED FOR:
FOTH

FIGURE 1 - 11/24/25 SITE AERIAL

Date: 11/24/25	Sheet : 1	of : 1
Proj No.: 25-0033		

THIS DRAWING AND ALL APPURTENANT MATTER CONTAINS INFORMATION PROPRIETARY TO THE CHAPPELL GROUP, INC. AND IS LOANED SUBJECT TO RETURN UPON DEMAND AND MUST NOT BE REPRODUCED, COPIED, LOANED, REVEALED, NOR LISTED FOR ANY PURPOSE OTHER THAN THAT FOR WHICH IT IS SPECIFICALLY FURNISHED WITHOUT EXPRESSED WRITTEN CONSENT OF THE CHAPPELL GROUP, INC. © THE CHAPPELL GROUP, INC. 2025

DATE	TYPE OF SAMPLE	TIME	POSITION	TOTAL DEPTH (ft)	SAMPLE DEPTH (ft)	TURBIDITY READING (NTUs)	DIFFERENCE FROM BACKGROUND	WEATHER	WIND DIRECTION & SPEED	TIDAL STAGE & DIRECTION	WATER TEMP (°F)
11/25/2025	Reference Point		26.0960967°, -80.10279°								
	Mixing Zone Background #1	8:00 AM	26.1007627° -80.1032201°	15'	SURFACE: 6'	6.37		Sunny	10 mph, ESE	Incoming, southward	77.7
					MID: 8'	2.3					
					BOTTOM: NA	NA					
	Mixing Zone Compliance #1		26.0931061°, -80.1034091°	52'	SURFACE: 6'	1.49	-4.88				
					MID: 26'	0.83	-1.47				
					BOTTOM: 46	0.76	NA				
	Mixing Zone Background #2	12:00 PM	26.1006417°, -80.1012362°	14'	SURFACE: 6'	1.56		Sunny	11 mph, SE	Outgoing, southward	78.2
					MID: 7'	1.26					
					BOTTOM: NA	NA					
	Mixing Zone Compliance #2		26.0931087°, -80.1037239°	53'	SURFACE: 6'	2.54	0.98				
					MID: 26'	1.59	0.33				
					BOTTOM: 47	1.02	NA				
	Mixing Zone Background #3	4:00 PM	26.1008744°, -80.1022432°	18'	SURFACE: 6'	1.51		Sunny	8 mph, ESE	Outgoing, southward	78.4
					MID: 9'	1.6					
					BOTTOM: NA	NA					
	Mixing Zone Compliance #3		26.0930606°, -80.1029043°	49'	SURFACE: 6'	1.62	0.11				
					MID: 25'	1.85	0.25				
					BOTTOM: 43'	1.44	NA				

Water samples were collected by vessel outside the influence of any artificial turbidity plume for background sampling and at the edge of the mixing zone for compliance sampling. Sampling locations varied with tidal conditions and were selected based on flow direction relative to the dredge site. A standard water sampler was used to collect the water column sample by lowering the open chamber to the target depth, closing it to capture the sample, and retrieving it carefully to avoid agitation. Samples were immediately transferred into clean, matched turbidity cuvettes handled in accordance with FT-1600 requirements, ensuring no fingerprints, bubbles, or contamination.

All turbidity measurements were performed using a turbidimeter that meets FT-1600 requirements. Each morning before sampling, the meter was calibrated using manufacturer-certified StablCal standards at 20, 100, and 800 NTU, followed by a 10 NTU low-level verification standard. The verification reading was required to fall within the FT-1600 acceptance limit of ±8%, and the percent difference was calculated each morning to confirm compliance. All calibration standards were verified to be within expiration and used in accordance with FT-1600 procedures. After analysis, cuvettes were rinsed with turbidity-free water and stored for future use. GPS coordinates for each sample location were recorded using a satellite-based device to document the precise time, location, and sample type for full traceability.



THE Chappell GROUP INC.
714 East McNab Road
Pompano Beach, Florida 33060
tel. 954.782.1908
fax. 954.782.1108
www.thechappellgroup.com

- *Environmental Consultants*
- *Marina & Wetland Permitting*
- *Mitigation Design & Monitoring*
- *T&E Species Surveys*
- *Tree Surveys/Appraisals*

PORT EVERGLADES SAND BYPASS PROJECT

PREPARED FOR:
FOTH

FIGURE 1 - 11/25/25 SITE AERIAL

Date: 11/25/25	Sheet : 1	of : 1
Proj No.: 25-0033		

THIS DRAWING AND ALL APPURTENANT MATTER CONTAINS INFORMATION PROPRIETARY TO THE CHAPPELL GROUP, INC. AND IS LOANED SUBJECT TO RETURN UPON DEMAND AND MUST NOT BE REPRODUCED, COPIED, LOANED, REVEALED, NOR LISTED FOR ANY PURPOSE OTHER THAN THAT FOR WHICH IT IS SPECIFICALLY FURNISHED WITHOUT EXPRESSED WRITTEN CONSENT OF THE CHAPPELL GROUP, INC. © THE CHAPPELL GROUP, INC. 2025

DATE	TYPE OF SAMPLE	TIME	POSITION	TOTAL DEPTH (ft)	SAMPLE DEPTH (ft)	TURBIDITY READING (NTUs)	DIFFERENCE FROM BACKGROUND	WEATHER	WIND DIRECTION & SPEED	TIDAL STAGE & DIRECTION	WATER TEMP (°F)
11/26/2025	Reference Point		26.0959499°, -80.1033993°								
	Mixing Zone Background #1	8:00 AM	26.1007315°, -80.1018609°	14'	SURFACE: 6'	0.93		Cloudy	5 mph, E	Incoming, southward	77.85
					MID: 7'	2.59					
					BOTTOM: NA	NA					
	Mixing Zone Compliance #1		26.0931011°, -80.1040005°	50'	SURFACE: 6'	0.68	-0.25				
					MID: 25'	1.23	-1.36				
					BOTTOM: 44'	0.86	NA				
	Mixing Zone Background #2	12:00 PM	26.1010579°, -80.1022376°	20'	SURFACE: 6'	2.47		Cloudy	9 mph, SE	Incoming, southward	78.2
					MID: 10'	0.72					
					BOTTOM: NA	NA					
	Mixing Zone Compliance #2		26.0930994, -80.103784°	50'	SURFACE: 6'	0.71	-1.76				
					MID: 25'	0.71	-0.01				
					BOTTOM: 44'	0.82	NA				
	Mixing Zone Background #3	4:00 PM	26.1007041°, -80.1020209°	16'	SURFACE: 6'	1.32		Cloudy	8 mph, E	Incoming, southward	78.67
					MID: 8'	0.86					
					BOTTOM: NA	NA					
	Mixing Zone Compliance #3		26.0930862°, -80.1034188°	50'	SURFACE: 6'	1.25	-0.07				
					MID: 25'	2.04	1.18				
					BOTTOM: 45'	1.48	NA				

Water samples were collected by vessel outside the influence of any artificial turbidity plume for background sampling and at the edge of the mixing zone for compliance sampling. Sampling locations varied with tidal conditions and were selected based on flow direction relative to the dredge site. A standard water sampler was used to collect the water column sample by lowering the open chamber to the target depth, closing it to capture the sample, and retrieving it carefully to avoid agitation. Samples were immediately transferred into clean, matched turbidity cuvettes handled in accordance with FT-1600 requirements, ensuring no fingerprints, bubbles, or contamination.

All turbidity measurements were performed using a turbidimeter that meets FT-1600 requirements. Each morning before sampling, the meter was calibrated using manufacturer-certified StablCal standards at 20, 100, and 800 NTU, followed by a 10 NTU low-level verification standard. The verification reading was required to fall within the FT-1600 acceptance limit of ±8%, and the percent difference was calculated each morning to confirm compliance. All calibration standards were verified to be within expiration and used in accordance with FT-1600 procedures. After analysis, cuvettes were rinsed with turbidity-free water and stored for future use. GPS coordinates for each sample location were recorded using a satellite-based device to document the precise time, location, and sample type for full traceability.



THE Chappell GROUP INC.
714 East McNab Road
Pompano Beach, Florida 33060
tel. 954.782.1908
fax. 954.782.1108
www.thechappellgroup.com

- *Environmental Consultants*
- *Marina & Wetland Permitting*
- *Mitigation Design & Monitoring*
- *T&E Species Surveys*
- *Tree Surveys/Appraisals*

PORT EVERGLADES SAND BYPASS PROJECT

PREPARED FOR:
FOTH

FIGURE 1 - 11/26/25 SITE AERIAL

Date: 11/26/25	Sheet : 1	of : 1
Proj No.: 25-0033		

THIS DRAWING AND ALL APPURTENANT MATTER CONTAINS INFORMATION PROPRIETARY TO THE CHAPPELL GROUP, INC. AND IS LOANED SUBJECT TO RETURN UPON DEMAND AND MUST NOT BE REPRODUCED, COPIED, LOANED, REVEALED, NOR LISTED FOR ANY PURPOSE OTHER THAN THAT FOR WHICH IT IS SPECIFICALLY FURNISHED WITHOUT EXPRESSED WRITTEN CONSENT OF THE CHAPPELL GROUP, INC. © THE CHAPPELL GROUP, INC. 2025

DATE	TYPE OF SAMPLE	TIME	POSITION	TOTAL DEPTH (ft)	SAMPLE DEPTH (ft)	TURBIDITY READING (NTUs)	DIFFERENCE FROM BACKGROUND	WEATHER	WIND DIRECTION & SPEED	TIDAL STAGE & DIRECTION	WATER TEMP (°F)
11/27/2025	Reference Point		26.0957974°, -80.1030731°								
	Mixing Zone Background #1	8:00 AM	26.0924596°, -80.1028647°	12'	SURFACE: 6'	1.82		Partly cloudy	4 mph, NW	Incoming, northward	77.5
					MID: 6'	1.29					
					BOTTOM: NA	NA					
	Mixing Zone Compliance #1		26.1003743°, -80.102429°	16'	SURFACE: 6'	0.82	-1				
					MID: 8'	1.7	0.41				
					BOTTOM: NA	NA	NA				
	Mixing Zone Background #2	12:00 PM	26.0950184°, -80.0962588°	26'	SURFACE: 6'	0.4		Partly cloudy	3 mph, SSW	Incoming, eastward	78.8
					MID: 13'	0.73					
					BOTTOM: 21'	0.47					
	Mixing Zone Compliance #2		26.0931674°, -80.1090919°	45'	SURFACE: 6'	0.58	0.18				
					MID: 23'	0.71	-0.02				
					BOTTOM: 39'	0.93	0.46				

Water samples were collected by vessel outside the influence of any artificial turbidity plume for background sampling and at the edge of the mixing zone for compliance sampling. Sampling locations varied with tidal conditions and were selected based on flow direction relative to the dredge site. A standard water sampler was used to collect the water column sample by lowering the open chamber to the target depth, closing it to capture the sample, and retrieving it carefully to avoid agitation. Samples were immediately transferred into clean, matched turbidity cuvettes handled in accordance with FT-1600 requirements, ensuring no fingerprints, bubbles, or contamination.

All turbidity measurements were performed using a turbidimeter that meets FT-1600 requirements. Each morning before sampling, the meter was calibrated using manufacturer-certified StablCal standards at 20, 100, and 800 NTU, followed by a 10 NTU low-level verification standard. The verification reading was required to fall within the FT-1600 acceptance limit of ±8%, and the percent difference was calculated each morning to confirm compliance. All calibration standards were verified to be within expiration and used in accordance with FT-1600 procedures. After analysis, cuvettes were rinsed with turbidity-free water and stored for future use. GPS coordinates for each sample location were recorded using a satellite-based device to document the precise time, location, and sample type for full traceability.

Work stopped after the 12 PM sample due to inclement weather; therefore, no water samples were collected past that time.

A weather report for this date is attached for reference.

Bruno Palacios

Bruno Palacios
Project Biologist

Tyler Chappell

Tyler Chappell
President

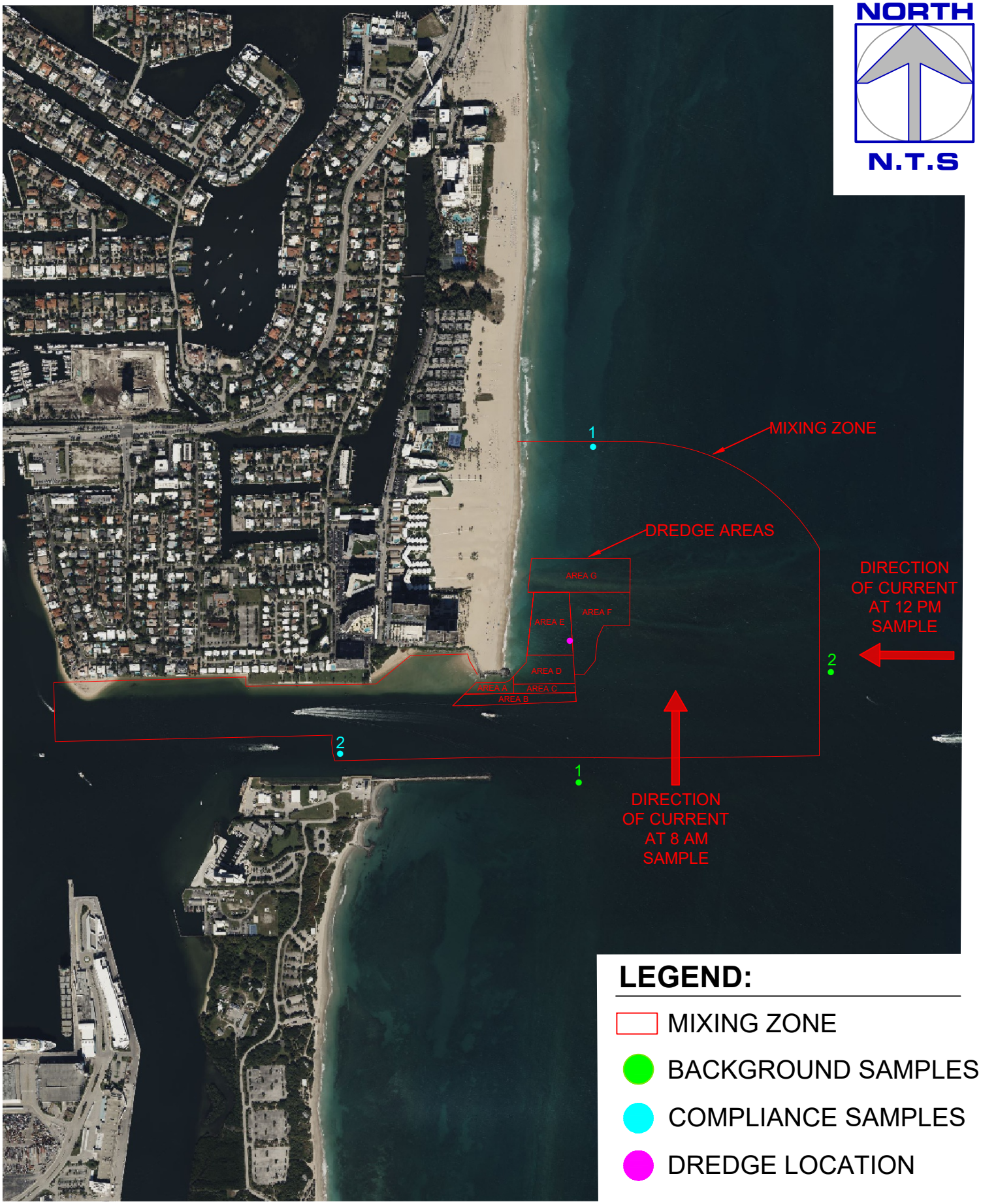

THE Chappell GROUP INC.
714 East McNab Road
Pompano Beach, Florida 33060
tel. 954.782.1908
fax. 954.782.1108
www.thechappellgroup.com

- *Environmental Consultants*
- *Marina & Wetland Permitting*
- *Mitigation Design & Monitoring*
- *T&E Species Surveys*
- *Tree Surveys/Appraisals*

PORT EVERGLADES SAND BYPASS PROJECT

PREPARED FOR:
FOTH

FIGURE 1 - 11/27/25 SITE AERIAL

Date: 11/27/25	Sheet : 1	of : 1
Proj No.: 25-0033		

THIS DRAWING AND ALL APPURTENANT MATTER CONTAINS INFORMATION PROPRIETARY TO THE CHAPPELL GROUP, INC. AND IS LOANED SUBJECT TO RETURN UPON DEMAND AND MUST NOT BE REPRODUCED, COPIED, LOANED, REVEALED, NOR LISTED FOR ANY PURPOSE OTHER THAN THAT FOR WHICH IT IS SPECIFICALLY FURNISHED WITHOUT EXPRESSED WRITTEN CONSENT OF THE CHAPPELL GROUP, INC. © THE CHAPPELL GROUP, INC. 2025

WEATHER

REPORTS

Climatological Report (Daily)

Issued by NWS Miami, FL


```
708
CDUS42 KMFL 272121
CLIFLL

CLIMATE REPORT
NATIONAL WEATHER SERVICE MIAMI,FL
421 PM EST THU NOV 27 2025

.................................

...THE FORT LAUDERDALE CLIMATE SUMMARY FOR NOVEMBER 27 2025...
VALID TODAY AS OF 0400 PM LOCAL TIME.

CLIMATE NORMAL PERIOD: 1991 TO 2020
CLIMATE RECORD PERIOD: 1912 TO 2025


WEATHER ITEM   OBSERVED TIME   RECORD YEAR NORMAL DEPARTURE LAST
                VALUE   (LST)  VALUE       VALUE  FROM      YEAR
                                                   NORMAL
.................................................................
TEMPERATURE (F)
 TODAY
  MAXIMUM         84  11:53 AM  88    1948  80      4       80
                                    1976
                                    2022
  MINIMUM         71   6:53 AM  35    1949  67      4       66
  AVERAGE         78                       73      5       73

PRECIPITATION (IN)
  TODAY            0.16          2.50 1920   0.11   0.05     0.00
  MONTH TO DATE    0.31                      3.38  -3.07     1.14
  SINCE NOV 1      0.31                      3.38  -3.07     1.14
  SINCE JAN 1     46.19                     57.86 -11.67    68.60

SNOWFALL (IN)
```

```
  TODAY            0.0
  MONTH TO DATE    0.0
  SINCE SEP 1      0.0
  SINCE JUL 1      0.0
  SNOW DEPTH       0

DEGREE DAYS
 HEATING
  TODAY            0                        0      0        0
  MONTH TO DATE    6                        0      6        3
  SINCE SEP 1      6                        0      6        3
  SINCE JUL 1      6                        0      6        3

 COOLING
  TODAY           13                        8      5        8
  MONTH TO DATE  249                      266    -17      318
  SINCE SEP 1   1215                     1259    -44     1371
  SINCE JAN 1   4477                     4327    150     4935
.................................................................


WIND (MPH)
  HIGHEST WIND SPEED    16   HIGHEST WIND DIRECTION     S (160)
  HIGHEST GUST SPEED    20   HIGHEST GUST DIRECTION     S (170)
  AVERAGE WIND SPEED     4.5


SKY COVER
  AVERAGE SKY COVER 0.6


WEATHER CONDITIONS
THE FOLLOWING WEATHER WAS RECORDED TODAY.
  THUNDERSTORM
  RAIN
  LIGHT RAIN
  FOG


RELATIVE HUMIDITY (PERCENT)
 HIGHEST    91
 LOWEST     65
 AVERAGE    78

.........................................................


THE FORT LAUDERDALE CLIMATE NORMALS FOR TOMORROW
                         NORMAL    RECORD    YEAR
 MAXIMUM TEMPERATURE (F)   80        88      1948
                                           1955
                                           1958
 MINIMUM TEMPERATURE (F)   67        38      1956
```

```
SUNRISE AND SUNSET
NOVEMBER 27 2025......SUNRISE   6:48 AM EST   SUNSET   5:29 PM EST
NOVEMBER 28 2025......SUNRISE   6:49 AM EST   SUNSET   5:28 PM EST


-  INDICATES NEGATIVE NUMBERS.
R  INDICATES RECORD WAS SET OR TIED.
MM INDICATES DATA IS MISSING.
T  INDICATES TRACE AMOUNT.




$$
```

US Dept of Commerce
National Oceanic and Atmospheric Administration
National Weather Service
1325 East West Highway
Silver Spring, MD 20910

Comments? Questions? Please Contact Us.

Disclaimer
Information Quality
Help
Glossary

Privacy Policy
Freedom of Information Act (FOIA)
About Us
Career Opportunities