PORT EVERGLADES
SAND BYPASS PROJECT
TCG NO. 25-0033
FDEP No: 0289308-004-JC

WATER QUALITY MONITORING REPORT

WEEK #17, FEB 13 – FEB 19, 2026

PREPARED FOR:
MR. BEN GROSS
FOTH
2618 HERSCHEL STREET
JACKSONVILLE, FL 32204-4512

714 East McNab Road. Pompano Beach, FL 33060 *tel*. 954. 782.1908 *fax*. 954.782.1108 www.thechappellgroup.com

Environmental Consultants | Marina & Wetland Permitting | Phase I ESAs | Mitigation Design & Monitoring | T & E Species Surveys

PORT EVERGLADES SAND BYPASS PROJECT- WATER QUALITY MONITORING DATA

DEP Project Name: Port Everglades Inlet Sand Bypassing Project
DEP Permit Number: 0289308-004-JC
Monitoring Firm: FOTH: The Chappell Group, Inc
Description of Site, Activity, or Equipment: Construct a sediment impoundment basin and rigid coastal structures, located at the Port Everglades Inlet north jetty.
Was equipment calibrated in accordance with the permit?: Yes
Datum: NAD 1983 (2011)
UTM Zone: Florida East 0901

DATE	DATA POINT	TIME	POSITION (STATE PLANE)	POSITION (DECIMAL DEGREES)	TOTAL DEPTH (ft)	SAMPLE DEPTH (ft)	TURBIDITY READING (NTUs)	DIFFERENCE FROM BACKGROUND	WEATHER	WIND DIRECTION & SPEED (kts)	TIDAL STAGE & DIRECTION	WATER TEMP (°F)
2/13/2026	Reference Point		950471.81 USft 641106.69 USft	26.0946537°, -80.1032595°								
	Mixing Zone Background #1	8:00 AM	950825.27 USft 643292.54 USft	26.1006603°, -80.1021366°	16'	Surface: 6'	1.06		Foggy	6 kts, W	Outgoing, southward	70.70
						Mid: 8'	1.90					
						Bottom: NA	NA					
	Mixing Zone Compliance #1		950503.89 USft 640523.34 USft	26.0930483°, -80.1031739°	50'	Surface: 6'	2.84	1.78				
						Mid: 25'	2.78	0.88				
						Bottom: 46'	3.31	NA				
	Mixing Zone Background #2	12:00 PM	950464.3 USft 640004.62 USft	26.0916221°, -80.1033054°	12'	Surface: 6'	2.56		Sunny	4 kts, N	Incoming, northward	72.50
						Mid: 6'	2.36					
						Bottom: NA	NA					
	Mixing Zone Compliance #2		950801.19 USft 643201.91 USft	26.1004114°, -80.1022119°	14'	Surface: 6'	15.10	12.54				
						Mid: 7'	17.10	14.74				
						Bottom: NA	NA	NA				
	Mixing Zone Background #3	4:00 PM	950214.12 USft 639935.36 USft	26.0914363°, -80.1040691°	16'	Surface: 6'	1.66		Sunny	6 kts, NE	Incoming, northward	72.40
						Mid: 8'	1.51					
						Bottom: NA	NA					
	Mixing Zone Compliance #3		950991.32 USft 643191.53 Usft	26.1003792°, -80.1016328°	12'	Surface: 6'	4.21	2.55				
						Mid: 6'	3.83	2.32				
						Bottom: NA	NA	NA				

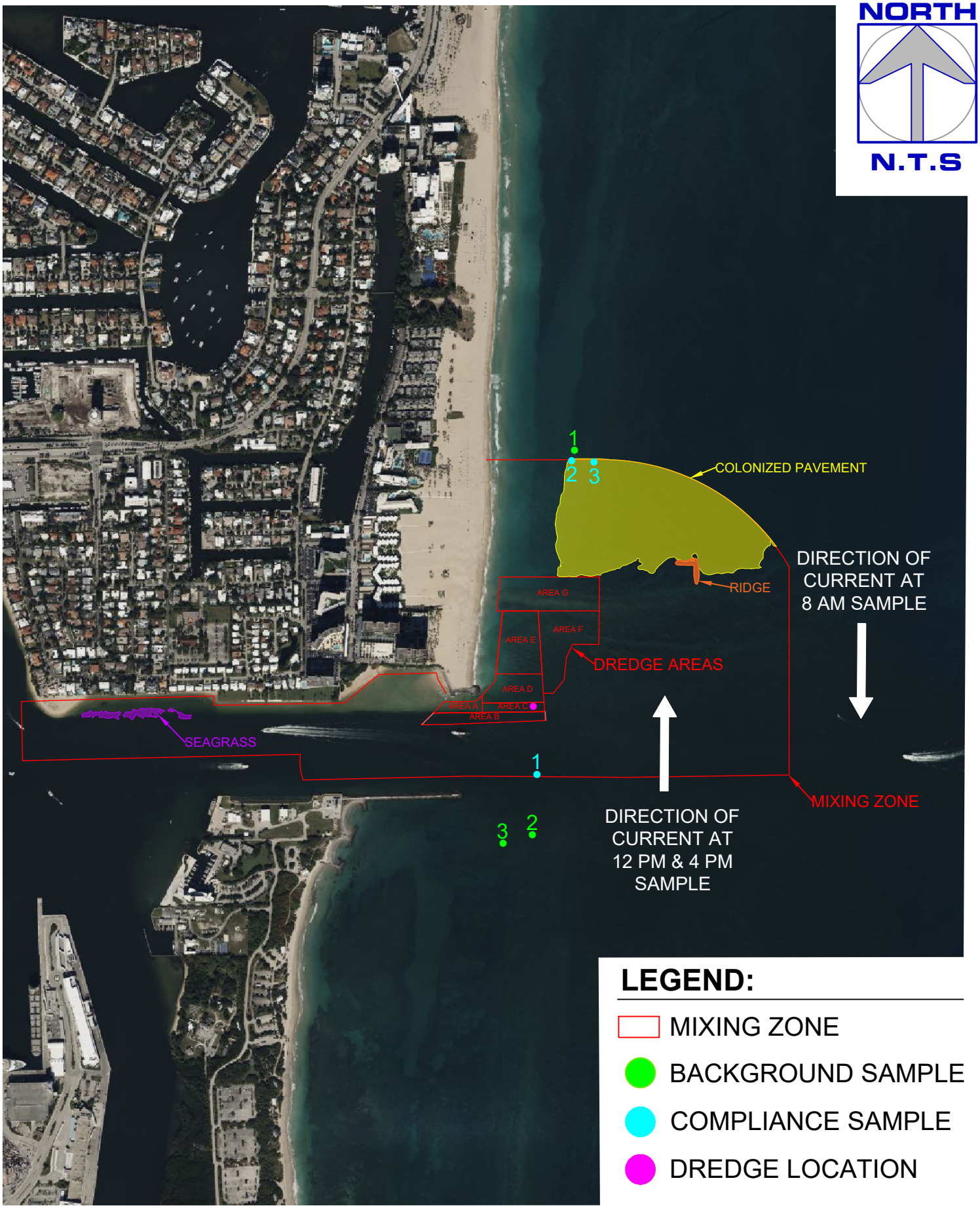

THE Chappell GROUP INC.
714 East McNab Road
Pompano Beach, Florida 33060
tel. 954.782.1908
fax. 954.782.1108
www.thechappellgroup.com

- *Environmental Consultants*
- *Marina & Wetland Permitting*
- *Mitigation Design & Monitoring*
- *T&E Species Surveys*
- *Tree Surveys/Appraisals*

PORT EVERGLADES SAND BYPASS PROJECT

PREPARED FOR:
FOTH

FIGURE 1 - 2/13/26 SITE AERIAL

Date:	Sheet :	of :
2/13/26	1	1
Proj No.: 25-0033		

THIS DRAWING AND ALL APPURTENANT MATTER CONTAINS INFORMATION PROPRIETARY TO THE CHAPPELL GROUP, INC. AND IS LOANED SUBJECT TO RETURN UPON DEMAND AND MUST NOT BE REPRODUCED, COPIED, LOANED, REVEALED, NOR LISTED FOR ANY PURPOSE OTHER THAN THAT FOR WHICH IT IS SPECIFICALLY FURNISHED WITHOUT EXPRESSED WRITTEN CONSENT OF THE CHAPPELL GROUP, INC. © THE CHAPPELL GROUP, INC. 2026

DATE	DATA POINT	TIME	POSITION (STATE PLANE)	POSITION (DECIMAL DEGREES)	TOTAL DEPTH (ft)	SAMPLE DEPTH (ft)	TURBIDITY READING (NTUs)	DIFFERENCE FROM BACKGROUND	WEATHER	WIND DIRECTION & SPEED (kts)	TIDAL STAGE & DIRECTION	WATER TEMP (°F)
2/14/2026	Reference Point		950512.29 USft 641272.56 USft	26.0951093°, -80.1031326°								
	Mixing Zone Background #1	8:00 AM	950933.54 USft 643354.04 USft	26.1008274°, -80.1018055°	12'	Surface: 6'	0.81		Sunny	2 kts, NE	Outgoing, southward	71.80
						Mid: 6'	0.87					
						Bottom: NA	NA					
	Mixing Zone Compliance #1		950778.96 USft 640547.31 USft	26.093109°, -80.1023354°	47'	Surface: 6'	3.24	2.43				
						Mid: 23'	4.07	3.20				
						Bottom: 41'	3.02	NA				
	Mixing Zone Background #2	12:00 PM	950851.84 USft 643395.27 USft	26.1009424°, -80.1020535°	14'	Surface: 6'	0.84		Sunny	7 kts, E	Outgoing, southward	72.40
						Mid: 7'	0.79					
						Bottom: NA	NA					
	Mixing Zone Compliance #2		950768.5 USft 640550.81 USft	26.0931189°, -80.1023672°	45'	Surface: 6'	3.22	2.38				
						Mid: 22'	4.51	3.72				
						Bottom: 39'	4.08	NA				
	Mixing Zone Background #3	4:00 PM	950842.55 USft 643295.02 USft	26.1006668°, -80.1020839°	16'	Surface: 6'	1.03		Sunny	8 kts, E	Incoming, southward	72.80
						Mid: 8'	1.40					
						Bottom: NA	NA					
	Mixing Zone Compliance #3		950525.69 USft 640570.56 USft	26.0931778°, -80.1031065°	51'	Surface: 6'	2.43	1.40				
						Mid: 25'	2.50	1.10				
						Bottom: 45'	2.15	NA				

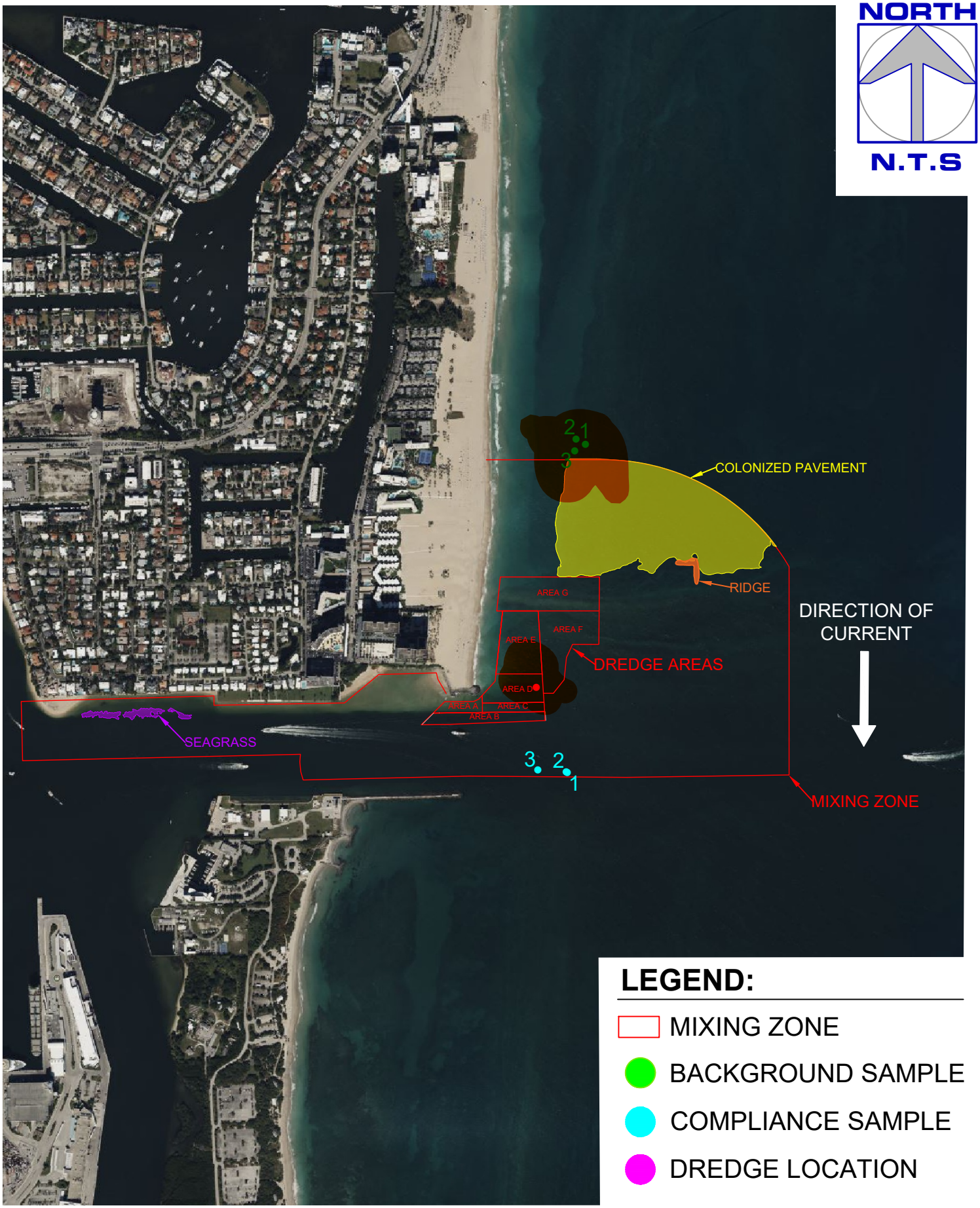

THE Chappell GROUP INC.
714 East McNab Road
Pompano Beach, Florida 33060
tel. 954.782.1908
fax. 954.782.1108
www.thechappellgroup.com

- *Environmental Consultants*
- *Marina & Wetland Permitting*
- *Mitigation Design & Monitoring*
- *T&E Species Surveys*
- *Tree Surveys/Appraisals*

PORT EVERGLADES SAND BYPASS PROJECT

PREPARED FOR:
FOTH

FIGURE 1 - 2/14/26 SITE AERIAL

Date:	Sheet :	of :
2/14/26	1	1
Proj No.: 25-0033		

THIS DRAWING AND ALL APPURTENANT MATTER CONTAINS INFORMATION PROPRIETARY TO THE CHAPPELL GROUP, INC. AND IS LOANED SUBJECT TO RETURN UPON DEMAND AND MUST NOT BE REPRODUCED, COPIED, LOANED, REVEALED, NOR LISTED FOR ANY PURPOSE OTHER THAN THAT FOR WHICH IT IS SPECIFICALLY FURNISHED WITHOUT EXPRESSED WRITTEN CONSENT OF THE CHAPPELL GROUP, INC. © THE CHAPPELL GROUP, INC. 2026

DATE	
2/15/2026	**No samples were collected on this date as no dredging occurred resulting from inclement weather; a weather report for this date is attached for reference.**

DATE	DATA POINT	TIME	POSITION (STATE PLANE)	POSITION (DECIMAL DEGREES)	TOTAL DEPTH (ft)	SAMPLE DEPTH (ft)	TURBIDITY READING (NTUs)	DIFFERENCE FROM BACKGROUND	WEATHER	WIND DIRECTION & SPEED (kts)	TIDAL STAGE & DIRECTION	WATER TEMP (°F)
2/16/2026	Reference Point		950720.82 USft 641663.71 Usft	26.0961814°, -80.1024891°								
	Mixing Zone Background #1	12:00 PM	950273.45 USft 639820.36 Usft	26.0911188°, -80.1038907°	14'	Surface: 6'	1.10		Cloudy	9 kts, W	Outgoing, northward	73.52
						Mid: 7'	1.26					
						Bottom: NA	NA					
	Mixing Zone Compliance #1		950778.45 USft 643209.54 USft	26.1004328°, -80.102281°	15'	Surface: 6'	2.24	1.14				
						Mid: 8'	2.70	1.44				
						Bottom: NA	NA	NA				
	Mixing Zone Background #2	4:00 PM	950488.55 USft 643308.49 USft	26.1007105°, -80.1031622°	15'	Surface: 6'	1.77		Partly cloudy	3 kts, NW	Incoming, southward	73.26
						Mid: 8'	1.55					
						Bottom: NA	NA					
	Mixing Zone Compliance #2		950080.69 USft 640537.96 USft	26.0930966°, -80.104463°	50'	Surface: 6'	5.70	3.93				
						Mid: 25'	3.57	2.02				
						Bottom: 44'	7.18	NA				

Note: No samples collected at 8 AM due to no dredging occurring at the time.

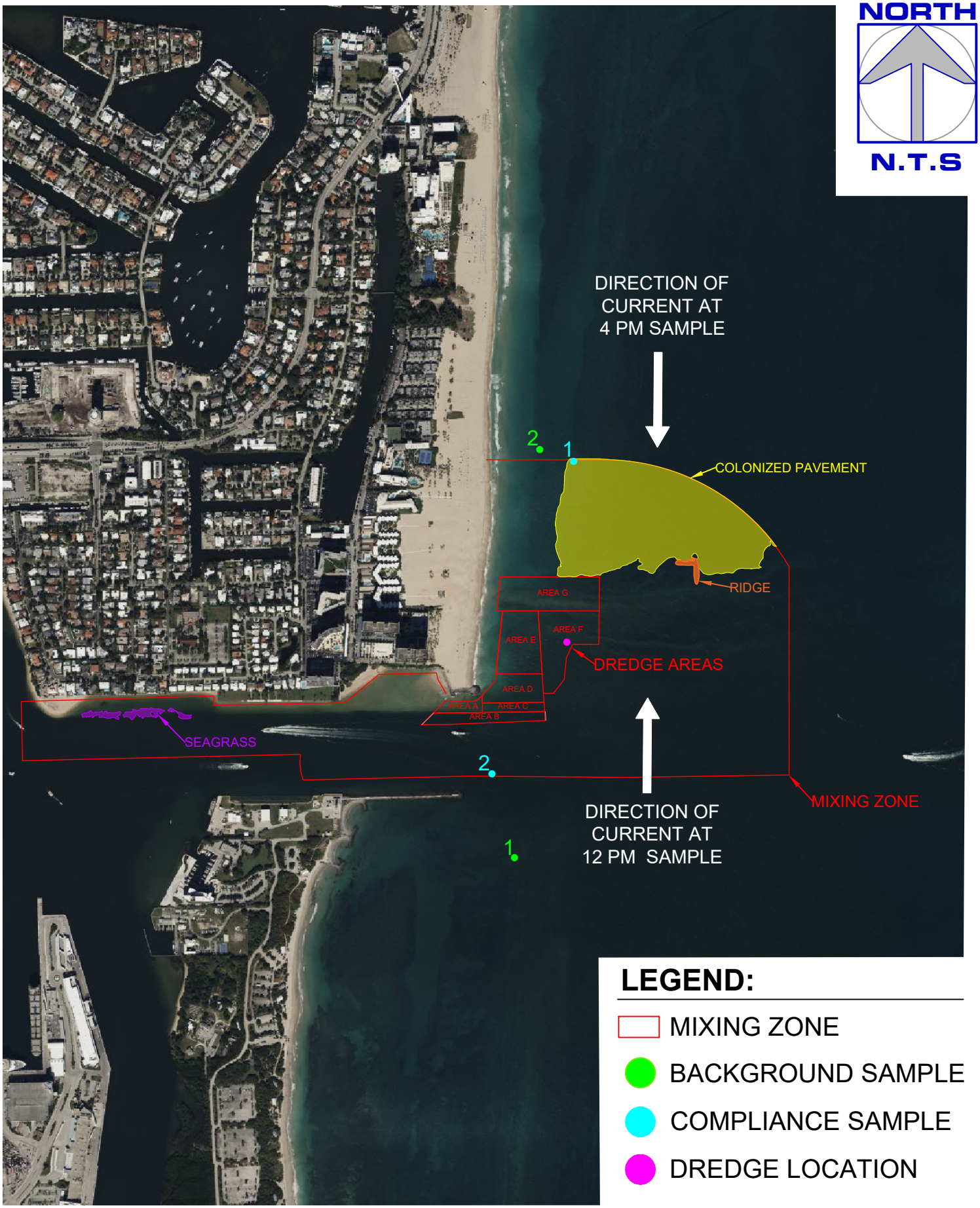

THE Chappell GROUP INC.
714 East McNab Road
Pompano Beach, Florida 33060
tel. 954.782.1908
fax. 954.782.1108
www.thechappellgroup.com

- *Environmental Consultants*
- *Marina & Wetland Permitting*
- *Mitigation Design & Monitoring*
- *T&E Species Surveys*
- *Tree Surveys/Appraisals*

PORT EVERGLADES SAND BYPASS PROJECT

PREPARED FOR:
FOTH

FIGURE 1 - 2/16/26 SITE AERIAL

Date:	Sheet :	of :
2/16/26	1	1
Proj No.: 25-0033		

THIS DRAWING AND ALL APPURTENANT MATTER CONTAINS INFORMATION PROPRIETARY TO THE CHAPPELL GROUP, INC. AND IS LOANED SUBJECT TO RETURN UPON DEMAND AND MUST NOT BE REPRODUCED, COPIED, LOANED, REVEALED, NOR LISTED FOR ANY PURPOSE OTHER THAN THAT FOR WHICH IT IS SPECIFICALLY FURNISHED WITHOUT EXPRESSED WRITTEN CONSENT OF THE CHAPPELL GROUP, INC. © THE CHAPPELL GROUP, INC. 2026

DATE	
2/17/2026	**No samples were collected on this date as no dredging occurred resulting from inclement weather; a weather report for this date is attached for reference.**

DATE	
2/18/2026	**No samples were collected on this date as no dredging occurred resulting from inclement weather; a weather report for this date is attached for reference.**

DATE	DATA POINT	TIME	POSITION (STATE PLANE)	POSITION (DECIMAL DEGREES)	TOTAL DEPTH (ft)	SAMPLE DEPTH (ft)	TURBIDITY READING (NTUs)	DIFFERENCE FROM BACKGROUND	WEATHER	WIND DIRECTION & SPEED (kts)	TIDAL STAGE & DIRECTION	WATER TEMP (°F)
2/19/2026	Reference Point		950471.07 USft, 641874.72 USft	26.0967667°, -80.1032455°								
	Mixing Zone Background #1	12:00 PM	950100.48 USft, 640175.02 USft	26.0920977°, -80.1044103°	15'	Surface: 6'	1.35		Sunny	10 kts, S	Outgoing, northward	73.79
						Mid: 8'	1.27					
						Bottom: NA	NA					
	Mixing Zone Compliance #1		950617.61 USft, 643204.39 USft	26.1004217°, -80.1027712°	17'	Surface: 6'	4.42	3.07				
						Mid: 9'	7.38	6.11				
						Bottom: NA	NA	NA				
	Mixing Zone Background #2	4:00 PM	950109.51 USft, 640018.39 USft	26.0916667°, -80.1043861°	13'	Surface: 6'	0.76		Sunny	11 kts, S	Incoming, northward	75.03
						Mid: 7'	0.84					
						Bottom: NA	NA					
	Mixing Zone Compliance #2		950642.43 USft, 643205.01 USft	26.1004229°, -80.1026956°	15'	Surface: 6'	6.26	5.50				
						Mid: 8'	6.25	5.41				
						Bottom: NA	NA	NA				

Note: No samples collected at 8 AM due to no dredging occurring at the time.

Water samples were collected by vessel outside the influence of any artificial turbidity plume for background sampling and at the edge of the mixing zone for compliance sampling. Sampling locations varied with tidal conditions and were selected based on flow direction relative to the dredge site. A standard water sampler was used to collect the water column sample by lowering the open chamber to the target depth, closing it to capture the sample, and retrieving it carefully to avoid agitation. Samples were immediately transferred into clean, matched turbidity cuvettes handled in accordance with FT-1600 requirements, ensuring no fingerprints, bubbles, or contamination.

All turbidity measurements were performed using a turbidimeter that meets FT-1600 requirements. Each morning before sampling, the meter was calibrated using manufacturer-certified StablCal standards at 20, 100, and 800 NTU, followed by a 10 NTU low-level verification standard. The verification reading was required to fall within the FT-1600 acceptance limit of ±8%, and the percent difference was calculated each morning to confirm compliance. All calibration standards were verified to be within expiration and used in accordance with FT-1600 procedures. After analysis, cuvettes were rinsed with turbidity-free water and stored for future use. GPS coordinates for each sample location were recorded using a satellite-based device to document the precise time, location, and sample type for full traceability.

I affirm that the data submitted herein is authentic, precise and accurate; all equipment (GPS, meters, standards) and processes are compliant with FDEP SOP FT1600 and permit conditions.

Bruno Palacios
Bruno Palacios
Project Biologist

Tyler Chappell
Tyler Chappell
President

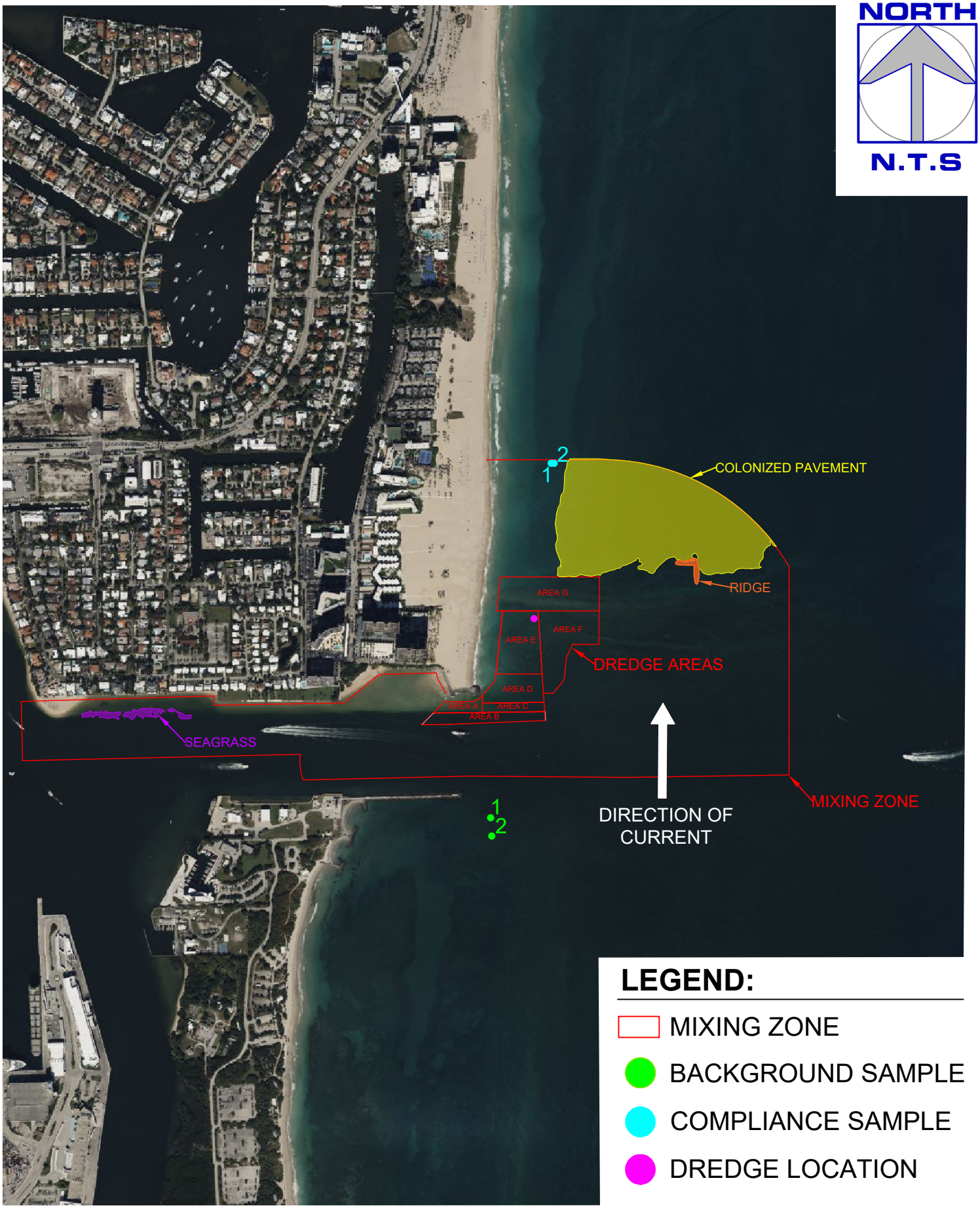

THE Chappell GROUP INC.
714 East McNab Road
Pompano Beach, Florida 33060
tel. 954.782.1908
fax. 954.782.1108
www.thechappellgroup.com

- Environmental Consultants
- Marina & Wetland Permitting
- Mitigation Design & Monitoring
- T&E Species Surveys
- Tree Surveys/Appraisals

PORT EVERGLADES SAND BYPASS PROJECT

PREPARED FOR:
FOTH

FIGURE 1 - 2/19/26 SITE AERIAL

Date: 2/19/26	Sheet : 1	of : 1
Proj No.: 25-0033		

THIS DRAWING AND ALL APPURTENANT MATTER CONTAINS INFORMATION PROPRIETARY TO THE CHAPPELL GROUP, INC. AND IS LOANED SUBJECT TO RETURN UPON DEMAND AND MUST NOT BE REPRODUCED, COPIED, LOANED, REVEALED, NOR LISTED FOR ANY PURPOSE OTHER THAN THAT FOR WHICH IT IS SPECIFICALLY FURNISHED WITHOUT EXPRESSED WRITTEN CONSENT OF THE CHAPPELL GROUP, INC. © THE CHAPPELL GROUP, INC. 2026

WEATHER

REPORTS

Climatological Report (Daily)

Issued by NWS Miami, FL


```
937
CDUS42 KMFL 152122
CLIFLL

CLIMATE REPORT
NATIONAL WEATHER SERVICE MIAMI,FL
422 PM EST SUN FEB 15 2026

.................................

...THE FORT LAUDERDALE CLIMATE SUMMARY FOR FEBRUARY 15 2026...
VALID TODAY AS OF 0400 PM LOCAL TIME.

CLIMATE NORMAL PERIOD: 1991 TO 2020
CLIMATE RECORD PERIOD: 1912 TO 2026


WEATHER ITEM   OBSERVED TIME   RECORD YEAR NORMAL DEPARTURE LAST
                VALUE   (LST)  VALUE       VALUE  FROM      YEAR
                                                   NORMAL
.................................................................
TEMPERATURE (F)
 TODAY
  MAXIMUM         81   2:14 PM  89    1995  78      3       81
  MINIMUM         71   4:15 AM  36    1943  64      7       73
  AVERAGE         76                        70      6       77

PRECIPITATION (IN)
  TODAY           0.00          1.00 2013   0.09  -0.09     0.00
  MONTH TO DATE   0.08                      1.46  -1.38      T
  SINCE NOV 1     6.16                     10.83  -4.67     5.15
  SINCE JAN 1     2.53                      4.36  -1.83     1.36

SNOWFALL (IN)
  TODAY           0.0
  MONTH TO DATE   0.0
```

```
  SINCE DEC 1      0.0
  SINCE JUL 1      0.0
  SNOW DEPTH       0

DEGREE DAYS
 HEATING
  TODAY            0                        1     -1        0
  MONTH TO DATE   64                       15     49        0
  SINCE DEC 1    138                       96     42       66
  SINCE JUL 1    144                      100     44       69

 COOLING
  TODAY           11                        6      5       12
  MONTH TO DATE   34                       85    -51      163
  SINCE DEC 1    470                      459     11      462
  SINCE JAN 1    194                      238    -44      258
.................................................................


WIND (MPH)
  HIGHEST WIND SPEED    25   HIGHEST WIND DIRECTION    SE (150)
  HIGHEST GUST SPEED    38   HIGHEST GUST DIRECTION     S (160)
  AVERAGE WIND SPEED    15.6


SKY COVER
  AVERAGE SKY COVER 0.5


WEATHER CONDITIONS
THE FOLLOWING WEATHER WAS RECORDED TODAY.
  NO SIGNIFICANT WEATHER WAS OBSERVED.


RELATIVE HUMIDITY (PERCENT)
 HIGHEST    76
 LOWEST     58
 AVERAGE    67

.......................................................


THE FORT LAUDERDALE CLIMATE NORMALS FOR TOMORROW
                        NORMAL    RECORD    YEAR
 MAXIMUM TEMPERATURE (F)   78        87      1952
                                           1959
 MINIMUM TEMPERATURE (F)   64        33      1943


SUNRISE AND SUNSET
FEBRUARY 15 2026......SUNRISE   6:56 AM EST   SUNSET   6:14 PM EST
FEBRUARY 16 2026......SUNRISE   6:55 AM EST   SUNSET   6:14 PM EST
```

```
-  INDICATES NEGATIVE NUMBERS.
R  INDICATES RECORD WAS SET OR TIED.
MM INDICATES DATA IS MISSING.
T  INDICATES TRACE AMOUNT.




$$
```

US Dept of Commerce
National Oceanic and Atmospheric Administration
National Weather Service
1325 East West Highway
Silver Spring, MD 20910

Comments? Questions? Please Contact Us.

Disclaimer
Information Quality
Help
Glossary

Privacy Policy
Freedom of Information Act (FOIA)
About Us
Career Opportunities

Climatological Report (Daily)

Issued by NWS Miami, FL


```
638
CDUS42 KMFL 172122
CLIFLL

CLIMATE REPORT
NATIONAL WEATHER SERVICE MIAMI,FL
422 PM EST TUE FEB 17 2026

.................................

...THE FORT LAUDERDALE CLIMATE SUMMARY FOR FEBRUARY 17 2026...
VALID TODAY AS OF 0400 PM LOCAL TIME.

CLIMATE NORMAL PERIOD: 1991 TO 2020
CLIMATE RECORD PERIOD: 1912 TO 2026


WEATHER ITEM   OBSERVED TIME   RECORD YEAR NORMAL DEPARTURE LAST
                VALUE   (LST)  VALUE       VALUE  FROM      YEAR
                                                   NORMAL
.................................................................
TEMPERATURE (F)
 TODAY
  MAXIMUM         79   2:25 PM  88    1935  78      1       79
  MINIMUM         64   4:37 AM  36    1919  64      0       69
  AVERAGE         72                        71      1       74

PRECIPITATION (IN)
  TODAY            0.00          1.45 1994   0.08  -0.08     0.00
  MONTH TO DATE    0.19                      1.61  -1.42      T
  SINCE NOV 1      6.27                     10.98  -4.71     5.15
  SINCE JAN 1      2.64                      4.51  -1.87     1.36

SNOWFALL (IN)
  TODAY            0.0
  MONTH TO DATE    0.0
```

```
  SINCE DEC 1      0.0
  SINCE JUL 1      0.0
  SNOW DEPTH       0

DEGREE DAYS
 HEATING
  TODAY            0                        1     -1        0
  MONTH TO DATE   64                       17     47        0
  SINCE DEC 1    138                       98     40       66
  SINCE JUL 1    144                      102     42       69

 COOLING
  TODAY            7                        7      0        9
  MONTH TO DATE   52                       98    -46      187
  SINCE DEC 1    488                      472     16      486
  SINCE JAN 1    212                      251    -39      282
.................................................................


WIND (MPH)
  HIGHEST WIND SPEED    17   HIGHEST WIND DIRECTION     E (90)
  HIGHEST GUST SPEED    23   HIGHEST GUST DIRECTION     E (100)
  AVERAGE WIND SPEED     9.1


SKY COVER
  AVERAGE SKY COVER 0.4


WEATHER CONDITIONS
THE FOLLOWING WEATHER WAS RECORDED TODAY.
  NO SIGNIFICANT WEATHER WAS OBSERVED.


RELATIVE HUMIDITY (PERCENT)
 HIGHEST    93
 LOWEST     62
 AVERAGE    78

.........................................................


THE FORT LAUDERDALE CLIMATE NORMALS FOR TOMORROW
                        NORMAL    RECORD    YEAR
 MAXIMUM TEMPERATURE (F)   78        89      1935
 MINIMUM TEMPERATURE (F)   64        38      1996


SUNRISE AND SUNSET
FEBRUARY 17 2026......SUNRISE   6:54 AM EST   SUNSET   6:15 PM EST
FEBRUARY 18 2026......SUNRISE   6:54 AM EST   SUNSET   6:16 PM EST


-  INDICATES NEGATIVE NUMBERS.
```

```
R  INDICATES RECORD WAS SET OR TIED.
MM INDICATES DATA IS MISSING.
T  INDICATES TRACE AMOUNT.




$$
```

US Dept of Commerce
National Oceanic and Atmospheric Administration
National Weather Service
1325 East West Highway
Silver Spring, MD 20910

Comments? Questions? Please Contact Us.

Disclaimer
Information Quality
Help
Glossary

Privacy Policy
Freedom of Information Act (FOIA)
About Us
Career Opportunities

Climatological Report (Daily)

Issued by NWS Miami, FL


```
887
CDUS42 KMFL 182121
CLIFLL

CLIMATE REPORT
NATIONAL WEATHER SERVICE MIAMI,FL
421 PM EST WED FEB 18 2026

.................................

...THE FORT LAUDERDALE CLIMATE SUMMARY FOR FEBRUARY 18 2026...
VALID TODAY AS OF 0400 PM LOCAL TIME.

CLIMATE NORMAL PERIOD: 1991 TO 2020
CLIMATE RECORD PERIOD: 1912 TO 2026


WEATHER ITEM   OBSERVED TIME   RECORD YEAR NORMAL DEPARTURE LAST
                VALUE   (LST)  VALUE       VALUE  FROM      YEAR
                                                   NORMAL
.................................................................
TEMPERATURE (F)
 TODAY
  MAXIMUM         79   2:48 PM  89    1935  78      1       80
  MINIMUM         70   6:06 AM  38    1996  64      6       70
  AVERAGE         75                        71      4       75

PRECIPITATION (IN)
  TODAY           0.00          2.23 2024   0.08  -0.08     0.03
  MONTH TO DATE   0.19                      1.69  -1.50     0.03
  SINCE NOV 1     6.27                     11.06  -4.79     5.18
  SINCE JAN 1     2.64                      4.59  -1.95     1.39

SNOWFALL (IN)
  TODAY           0.0
  MONTH TO DATE   0.0
```

```
  SINCE DEC 1      0.0
  SINCE JUL 1      0.0
  SNOW DEPTH       0

DEGREE DAYS
 HEATING
  TODAY            0                        1     -1        0
  MONTH TO DATE   64                       18     46        0
  SINCE DEC 1    138                       99     39       66
  SINCE JUL 1    144                      103     41       69

 COOLING
  TODAY           10                        7      3       10
  MONTH TO DATE   62                      105    -43      197
  SINCE DEC 1    498                      479     19      496
  SINCE JAN 1    222                      258    -36      292
.................................................................


WIND (MPH)
  HIGHEST WIND SPEED    20   HIGHEST WIND DIRECTION    SE (130)
  HIGHEST GUST SPEED    26   HIGHEST GUST DIRECTION    SE (130)
  AVERAGE WIND SPEED    12.5


SKY COVER
  AVERAGE SKY COVER 0.5


WEATHER CONDITIONS
THE FOLLOWING WEATHER WAS RECORDED TODAY.
  NO SIGNIFICANT WEATHER WAS OBSERVED.


RELATIVE HUMIDITY (PERCENT)
 HIGHEST    78
 LOWEST     62
 AVERAGE    70

.........................................................


THE FORT LAUDERDALE CLIMATE NORMALS FOR TOMORROW
                        NORMAL    RECORD    YEAR
 MAXIMUM TEMPERATURE (F)   78        88      2017
 MINIMUM TEMPERATURE (F)   64        35      1958


SUNRISE AND SUNSET
FEBRUARY 18 2026......SUNRISE   6:54 AM EST   SUNSET   6:16 PM EST
FEBRUARY 19 2026......SUNRISE   6:53 AM EST   SUNSET   6:16 PM EST


-  INDICATES NEGATIVE NUMBERS.
```

```
R  INDICATES RECORD WAS SET OR TIED.
MM INDICATES DATA IS MISSING.
T  INDICATES TRACE AMOUNT.




$$
```

US Dept of Commerce
National Oceanic and Atmospheric Administration
National Weather Service
1325 East West Highway
Silver Spring, MD 20910

Comments? Questions? Please Contact Us.

Disclaimer
Information Quality
Help
Glossary

Privacy Policy
Freedom of Information Act (FOIA)
About Us
Career Opportunities